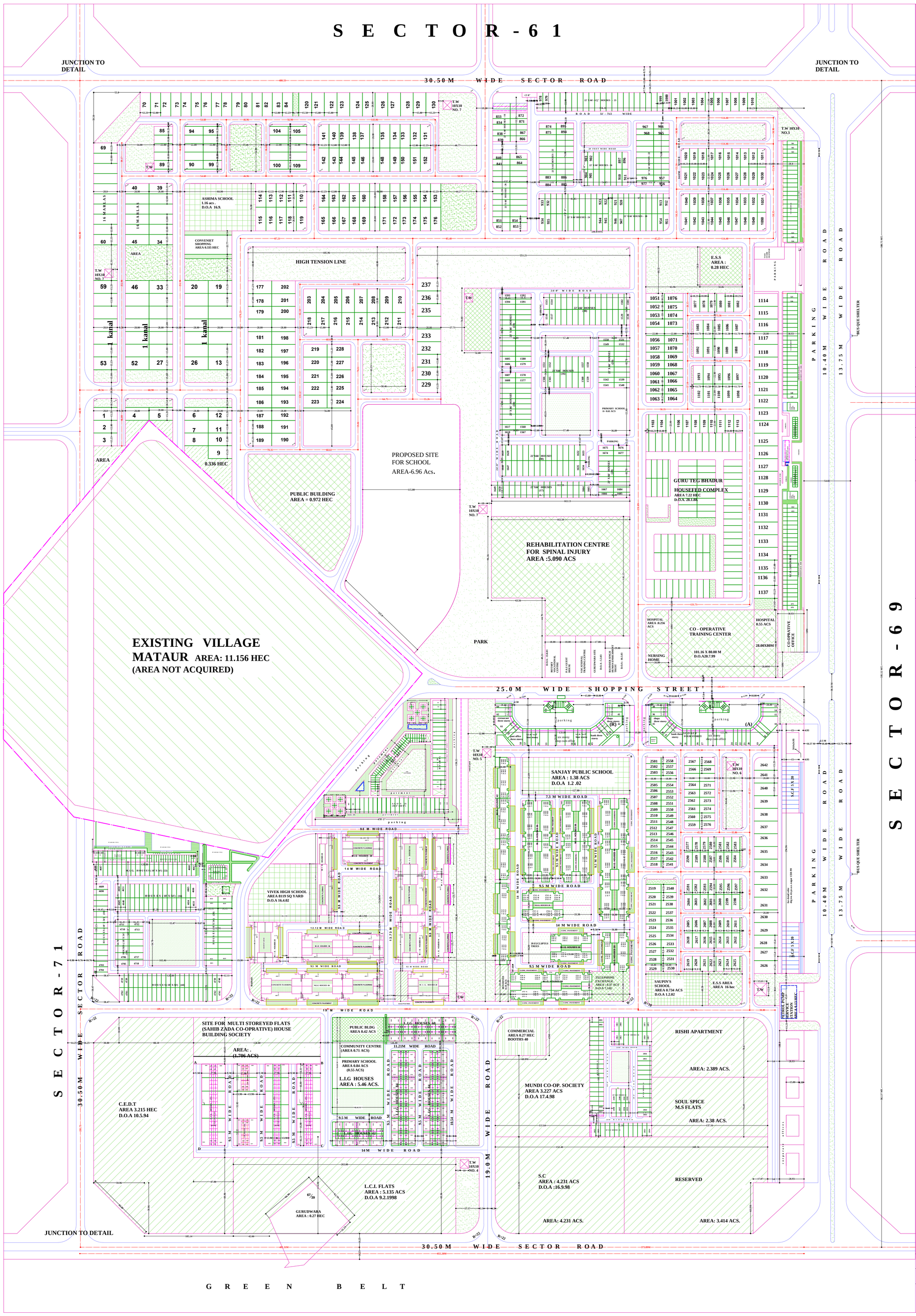

S.A.S. NAGAR

URBAN ESTATE

SECTOR - 70

LEGEND:-

1. RESIDENTIAL
2. MULTISTORIED FLATS
3. EXISTING VILLAGE MATAUR
4. COMMERCIAL
5. EDUCATIONAL
6. PUBLIC BUILDINGS
10. RESERVED
11. ROADS / PUBLIC OPEN SPACES
12. HIGH TENSION LINE
13. UN - ACQUIRED LAND

DETAIL OF AREAS:

GROSS SECTOR AREA (INCLUDING SECTOR ROADS)		= 124.07	HEC
1. AREA UNDER SECTOR ROADS		= 10.56	"
2. RESERVED OPEN AREA UNDER H.T LINE		= 3.12	"
3. AREA UNDER EXISTING VILLAGE MATAUR		= 11.156	"
NET PLAANNED AREA		= 99.234	HEC
1. AREA UNDER RESIDENTIAL PLOTS		= 14.89	" 15.00%
2. AREA UNDER HOUSEFED COMPLEX	2.22	= 36.882	" 37.17%
3. AREA UNDER MULTISTOREYED FLATS	34.662		
4. AREA UNDER COMMERCIAL		= 7.072	" 7.14%
5. AREA UNDER EDUCATIOANAL		= 3.588	" 3.62%
6. AREA UNDER PUBLIC BUILDING		= 5.731	" 5.78%
7. RESERVED AREA		= 0.336	" 0.34%
8. AREA UNDER ROADS & OPEN SPACES		= 30.739	" 30.95%

DETAIL OF PLOTS

S.NO	CATEGORY	SIZE OF PLOT	AREA OF PLOT IN SQ.MTS.	ALREADY PROVIDED	NEW PLOTS PROVIDED	TOTAL NO. OF PLOTS	TOTAL AREA UNDER PLOTS
1.	1 KANAL	15.0X28.0 M	420.00 SQ.M	47	113	160	6.70 HEC.
2.	10 MARLA	12.0X28.0 "	336.00 "	47	46	93	3.13 "
3.	12 MARLA	11.5X22.0 "	253.00 "	-	20	20	0.50 "
4.	10 MARLA	10.0X22.0 "	220.00 "	25	92	117	2.60 "
5.	8 MARLA	9.3X18.0 "	167.00 "	-	89	89	1.50 "
6.	6 MARLA	7.0X18.0 "	126.00 "	-	36	36	0.46 "
			TOTAL	119	396	515	14.89 "

SCHDULE OF PLOTS

CATEGORY	NOS	TOTAL NOS.
1 KANAL	120-130, 177-237, 1114-1137, 2626-2642 (11) (61) (24) (17)	113
16 MARLAS	131-176 (46)	46
12 MARLAS	1083-1102 (20)	20
10 MARLAS	1001-1008, 1010-1082, 1103-1113 (8) (13) (11) (PLOT NO. 1009 ALREADY BUILT AT SITE)	92
8 MARLAS	2519-2540, 2559-2625 (22) (67)	89
6 MARLAS	2501-2518, 2541-2558 (18) (18)	36

ROAD CROSS SECTION

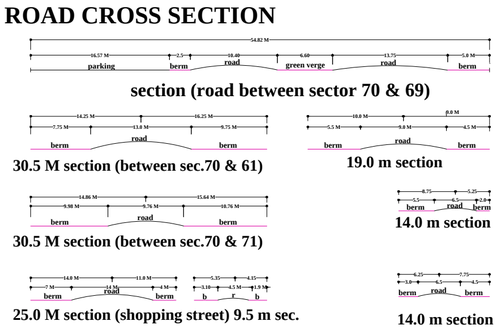

NOTES:-

1. THIS DRAWING IS BASED ON THE SKETCH LAY-OUT PLAN APPROVED BY THE LAY-OUT PLAN APPROVAL COMMITTEE MEETING HELD 11.1.94.
2. 119' PLOTS ALREADY CURVED OUT IN POCKET 'A' AS ALREADY INDICATED IN DRAWING NO. 964/93 DATED 12.2.93 HAVE BEEN RETAINED AS SUCH IN THE LAY-OUT PLAN.
3. ALL MEASURMENTS ARE TO BE EXACT & SHOULD BE CHECKED AT SITE.
4. ALL DIMENSIONS ARE TO BE TAKEN FROM THE CENTRE LINE OF CARRIAGE WAYS WHICH ARE SHOWN IN DASH & DOTS.
5. DETAIL OF SHOPPING CENTRE WILL BE SUPPLIED LATER ON.
6. DETAILED ROAD CROSS SECTIONS WILL BE SUPPLIED LATER ON.
7. THIS DRAWING SUPERSEDES ALL THE PREVIOUSDRAWINGS OS SECTOR-70
8. SITE FOR INDIA RED CROSS SOCIETY HAS BEEN INCORPORATED AS PER DISTRICT TOWN PLANNER PUDA (M)' S END NO. DHUD T.P.V. 96 / 3214 DT.- 1.7.96.
9. WIDTH OF THE PHIRNI ON THE EASTERN SIDE OF VILLAGE MATAUR SECTOR 70 HAS BEEN WIDENED TO 24.40 MT. 80'-0" INSTEAD OF 19 MT / 60'-0" AS PER DECESION TAKEN IN PLANNING AND DESIGN COMMITTEE MEETING HELD ON . 5.5.1999.
10. SITE OF P.A.U GUEST HOUSE HAS BEEN MARKED AS PER PUDA LETTER NO. PUDA-TPW-02/10714 DATED 9.10.02.
11. SITE OF GURUDWARA SAHIB HAS BEEN INCORPORATED AS PER PUDA REFERENCE NO. PUDA TPW=02/9667 DT 11.9.02.
12. FOR ZONING OF M/HIGH SCHOOL REFER DRG. NO. 1666/02 , DT 18.12.02.
13. FOR ZONING OF, P.A.U. GUEST HOUSE REFER , DRG. NO. 1663/02 DT-11.12.02.
14. THE SITE ADJOINING PLOT NO. 114 & 115 HAS BEEN EARMARKED FOR MIDDLE SCHOOL SENT BY PUDA'S LETTER MO. 6014 DT. 4.11.04 PUDA'S DRG. NO. 29 JOB NO. 70 DT 3.3.03.

NOTE:-

THE DIGITIZED DRAWING IS BASED ON THE ORIGINAL DRAWING OF THE CONCERNED DEPARTMENT. IN CASE OF ANY DISCREPANCY THE DETAILS IN THE ORIGINAL DRAWING SHALL PREVAIL UPON.

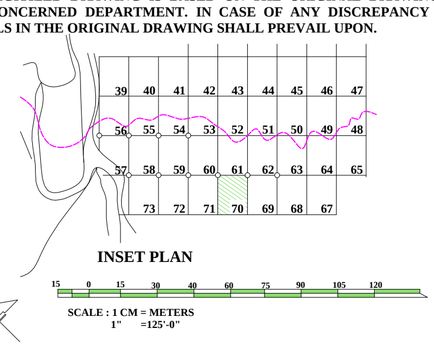

LAY OUT -CUM -DEMARCATION & NUMBERING PLAN

OFFICE OF THE DIVISIONAL TOWN PLANNER, S.A.S.NAGAR

Drawing no. (d.t.p S.A.S. nagar) 1066 /94		DATED: 14	
DRAWN BY:		CHECKED BY:	
-Sd- asstt.town planner	-Sd- district town planner	-Sd- senior town planner	-Sd- chief town planner

REALTY HOLDING & MANAGEMENT CONSULTANTS
For any Mohali Real Estate question,
whatsapp us @91-7814613916
realtyconsultants.in